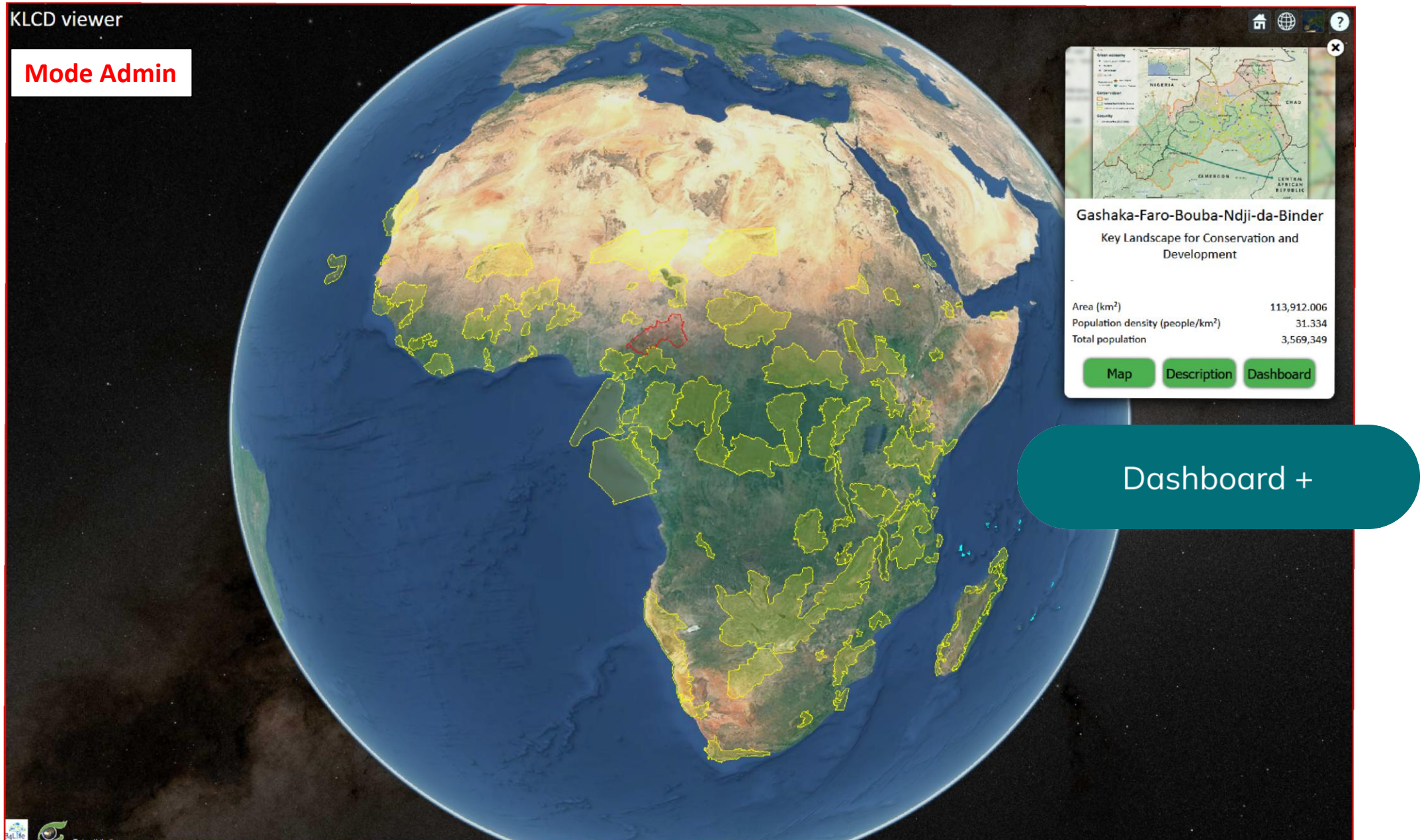
KLCD viewer
Mode Admin
Gashaka-Faro-Bouba-Ndji-da-Binder
Key Landscape for Conservation and Development
Area (km²) 113,912.006
Population density (people/km²) 31.334
Total population 3,569,349
Map
Description
Dashboard
Dashboard +
Data attribution

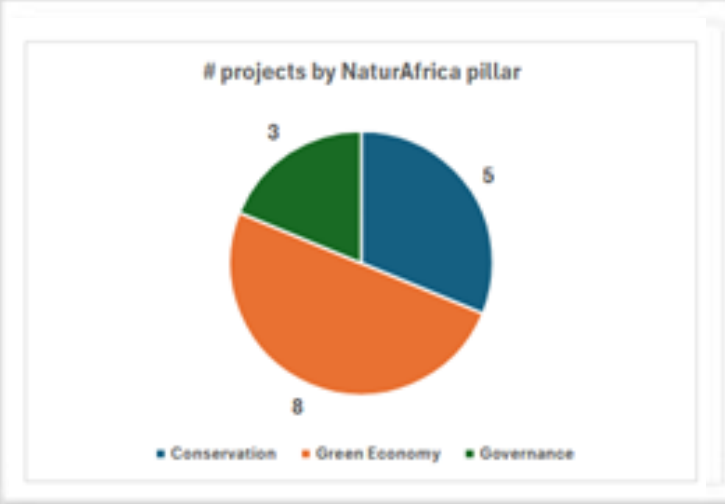

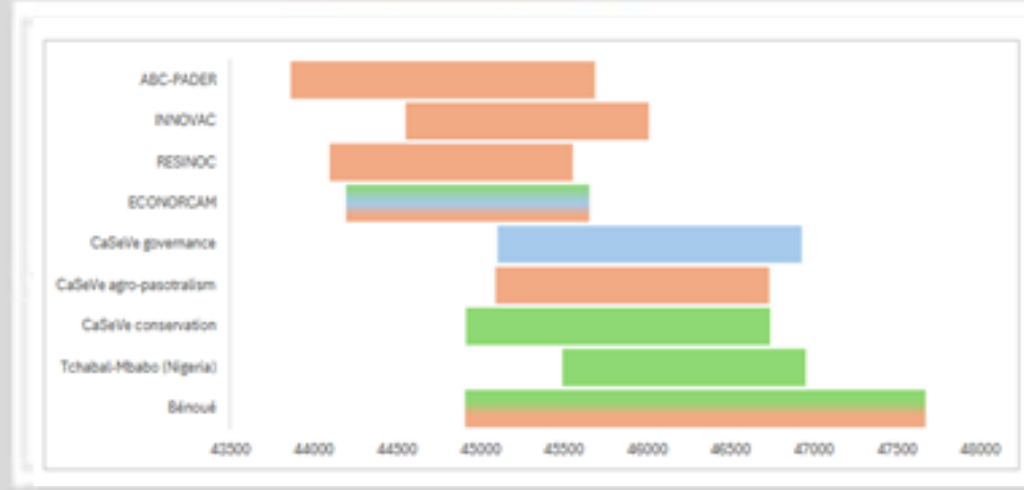

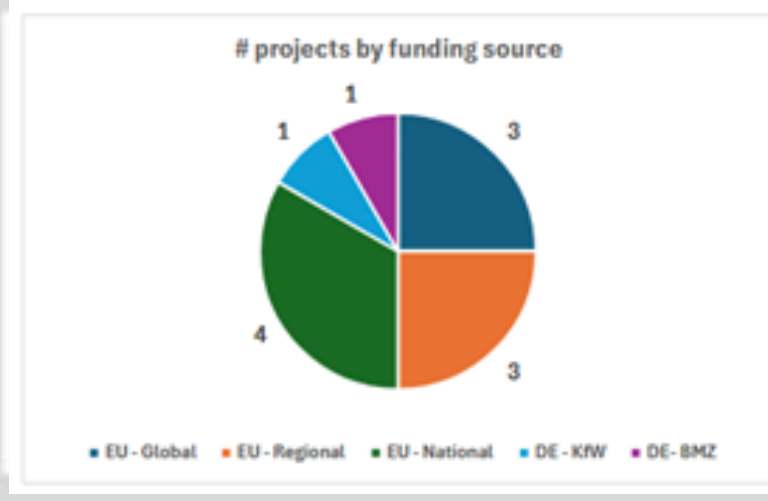

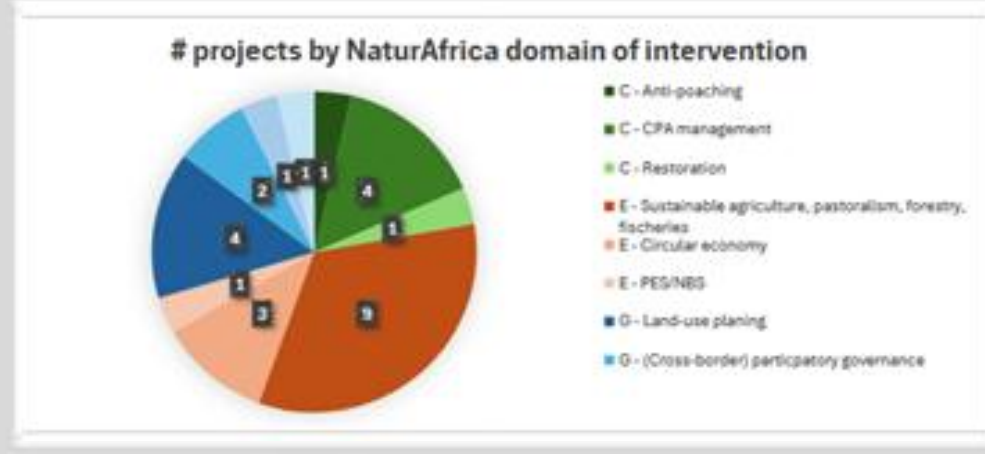

Quitter

Données 🔒

KLCD

Actions

Historique 🔒

Accès aux utilisateurs autorisés

Importer la table (CSV)

Retour à la page précédente

Retour à la page précédente

KLCD Viewer — Actions

Source: /actions.php

Rechercher dans le titre... Rafraîchir — 17 actions affichées

ID Action	Titre	Date début	Date fin	Budget total (M€)
1	Bénoué	2022-12-16	2030-07-11	3.00
2	Gashaka-Gumti	2024-07-22	2028-07-22	1.50
3	CaSeVe conservation	2022-12-22	2027-12-21	7.75
4	CaSeVe agro-pasotralism	2023-06-17	2027-12-16	7.75
5	CaSeVe governance	2023-06-29	2028-06-28	4.00
6	ECONORCAM	2021-01-01	2024-12-31	5.32
7	RESINOC	2020-09-24	2024-09-23	2.50
8	INNOVAC	2021-12-24	2025-12-23	4.15
9	ABC-PADER	2020-02-03	2025-02-03	9.50
10	BSB-Yamoussa			11.00
11	Borderlands	2024-09-01	2027-12-31	31.50
12	PAIRIAC			27.00
13	PRADEP			
14	ABC - SODECOTON			15.50
15	RealGNRS			
16	PROFEC	2023-01-01	2024-12-01	
17	ECHO			

Exporter la table (CSV)

Retour à la page précédente

Historique des modifications (Audit log)

← Retour aux actions

Date	Table	Opération	Utilisateur	Ancienne valeur	Nouvelle valeur
2026-01-22 10:21:53.714737+01	action	INSERT			"{\"title\": \"ECHO\", \"end_date\": null, \"action_id\": 17, < >
2026-01-22 10:21:53.714737+01	action	INSERT			"{\"title\": \"PROFEC\", \"end_date\": \"2024-12-01\", \"acti < >
2026-01-22 10:21:53.714737+01	action	INSERT			"{\"title\": \"RealGNRS\", \"end_date\": null, \"action_id\": < >
2026-01-22 10:21:53.714737+01	action	INSERT			"{\"title\": \"ABC - SODECOTON\", \"end_date\": null, \"actio < >
2026-01-22 10:21:53.714737+01	action	INSERT			"{\"title\": \"PRADEP\", \"end_date\": null, \"action_id\": 1 < >
2026-01-22 10:21:53.714737+01	action	INSERT			"{\"title\": \"PAIREAC\", \"end_date\": null, \"action_id\": < >
2026-01-22 10:21:53.714737+01	action	INSERT			"{\"title\": \"Borderlands\", \"end_date\": \"2027-12-31\", \ < >
2026-01-22 10:21:53.714737+01	action	INSERT			"{\"title\": \"BSB-Yamoussa\", \"end_date\": null, \"action_i < >
2026-01-22 10:21:53.714737+01	action	INSERT			"{\"title\": \"ABC-PADER\", \"end_date\": \"2025-02-03\", \"a < >
2026-01-22 10:21:53.714737+01	action	INSERT			"{\"title\": \"INNOVAC\", \"end_date\": \"2025-12-23\", \"act < >
2026-01-22 10:21:53.714737+01	action	INSERT			"{\"title\": \"RESINOC\", \"end_date\": \"2024-09-23\", \"act

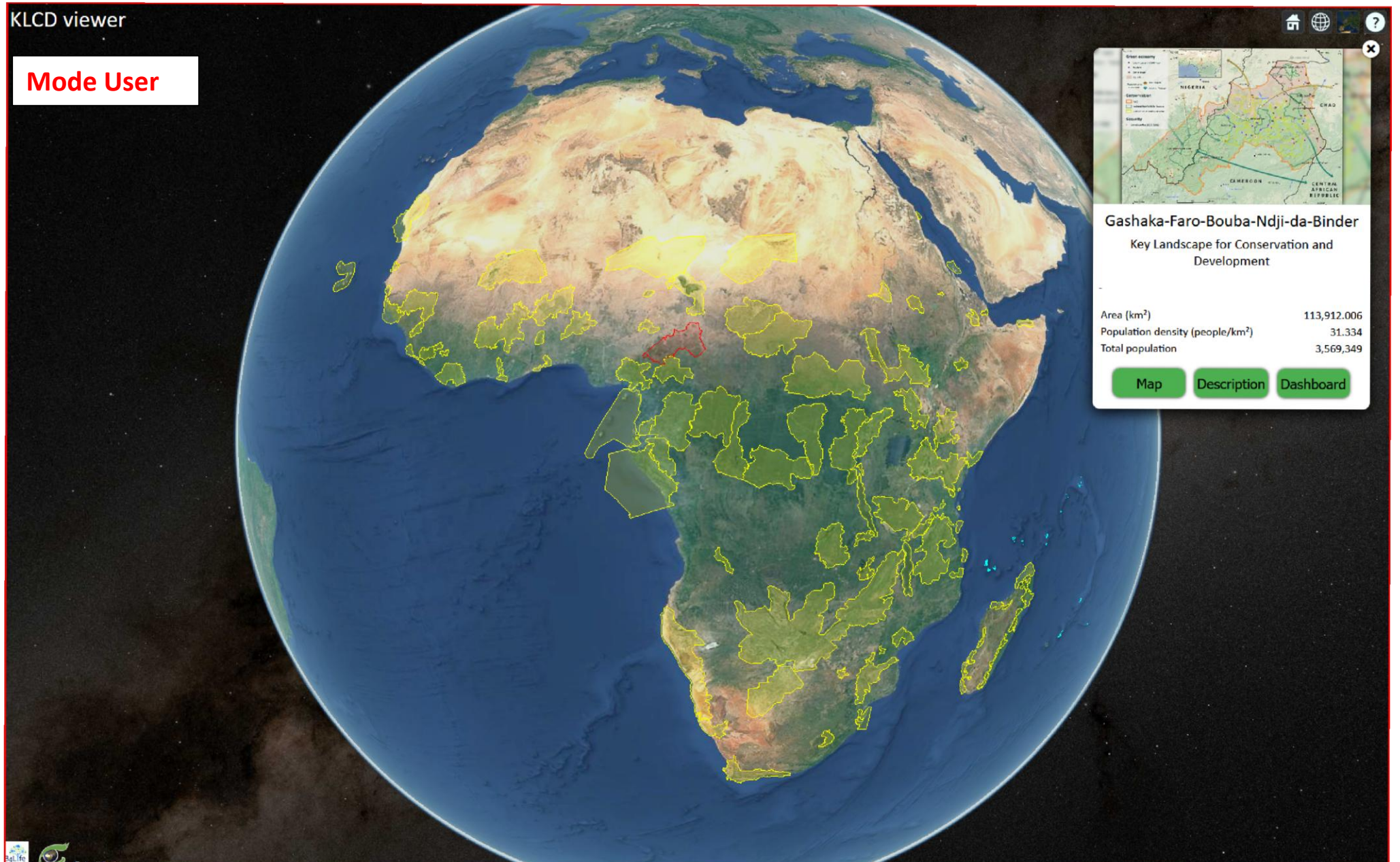
KLCD viewer
Mode User
Gashaka-Faro-Bouba-Ndji-da-Binder
Key Landscape for Conservation and Development
Area (km²) 113,912.006
Population density (people/km²) 31.334
Total population 3,569,349
Map
Description
Dashboard
Data attribution

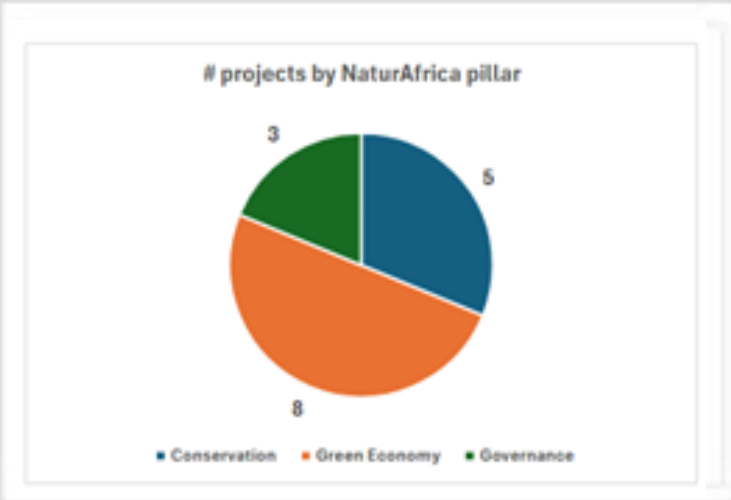
projects by NaturAfrica pillar
3
5
8
Conservation
Green Economy
Governance

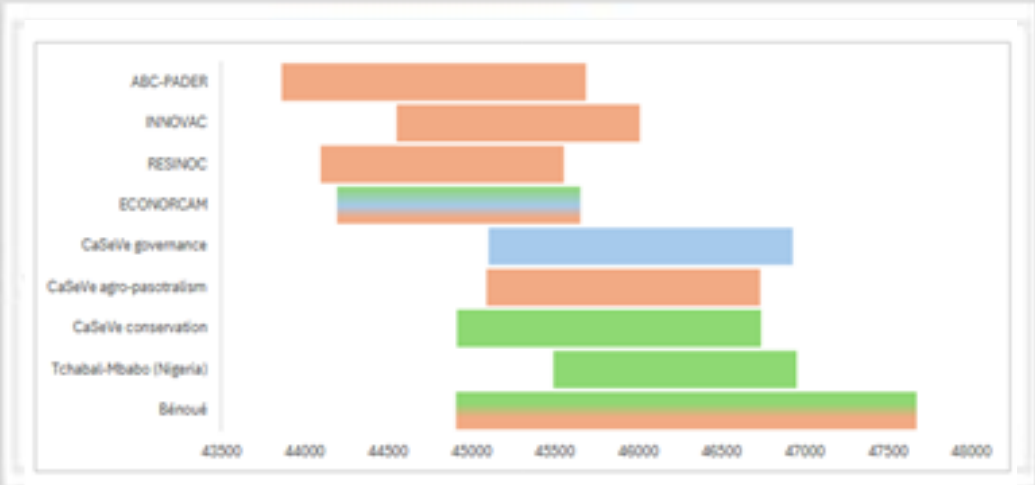
ABC-PADER
INNOVAC
RESINOC
ECONORCAM
CaSeVe governance
CaSeVe agro-pasotralism
CaSeVe conservation
Tchabal-Mbabo (Nigeria)
Bénoué
43500
44000
44500
45000
45500
46000
46500
47000
47500
48000

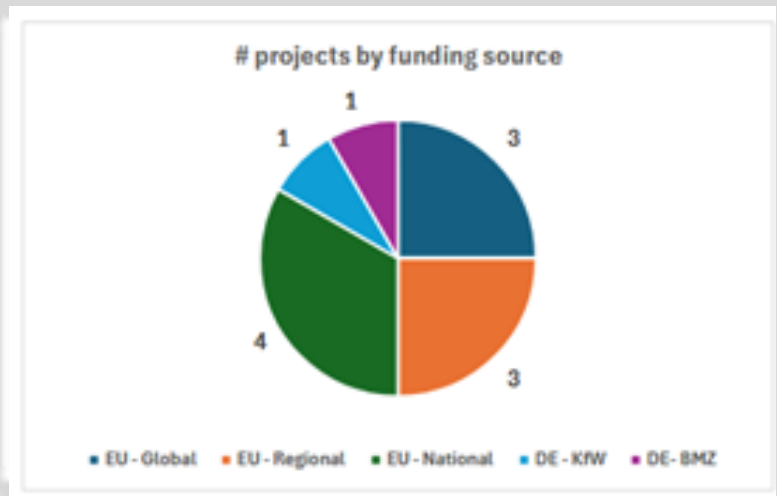
projects by funding source
1
1
3
4
3
EU - Global
EU - Regional
EU - National
DE - KfW
DE - BMZ

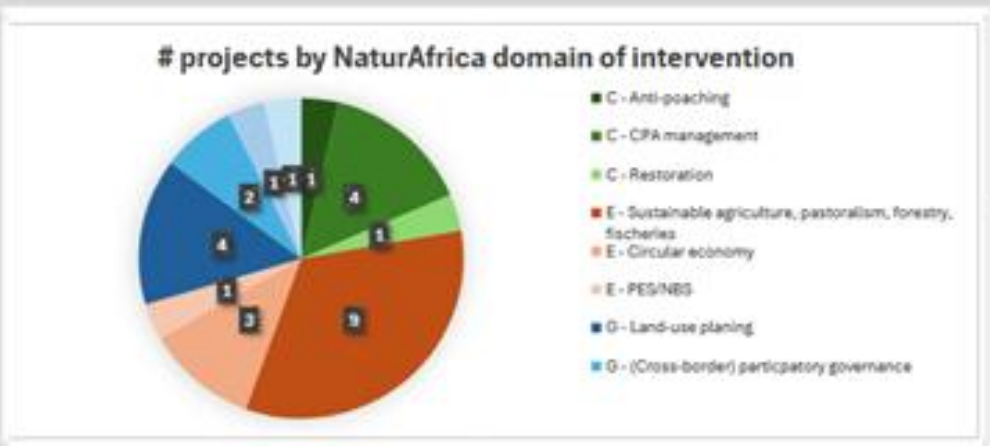
projects by NaturAfrica domain of intervention
C - Anti-poaching
C - CPA management
C - Restoration
E - Sustainable agriculture, pastoralism, forestry, fischeries
E - Circular economy
E - PES/NBS
G - Land-use planing
G - (Cross-border) particpatory governance

Quitter